Entry to the Stockholm Junior Water Prize 2026

SENTINEL: Multimodal Artificial Intelligence for Early Water Pollution Detection

Fusing Five Sensing Modalities with Cross-Modal Temporal Attention to Detect Contamination Days to Weeks Before Current Methods

Bryan Cheng

Virginia

I. Abstract

Water contamination events expose millions to toxic substances because current monitoring detects pollution too late. SENTINEL is the first artificial intelligence system to fuse five environmental sensing modalities—physicochemical sensors, satellite remote sensing, aquatic metagenomics, transcriptomic biomarkers, and organismal behavioral signals—for early water pollution detection. Trained on SENTINEL-DB (390 million records from 13 public sources across 105 countries), SENTINEL achieves AUROC = 0.973 [95% CI: 0.964–0.981] for multimodal anomaly detection, significantly outperforming the best single modality ($p = 0.002$) and published state-of-the-art models including MCN-LSTM (Sensors 2023, +0.052 AUROC) and Deep Autoencoder (PLOS CompBio 2024, +0.042 AUROC). Validated against 31 contamination events spanning 9 event types across the United States—4 historical case studies, 6 real NEON sensor events, and 21 research-validated events—SENTINEL detected all 31 before official reports, with a mean lead time of 673 hours (28 days). Chesapeake Bay hypoxia was detected 90 days early, Gulf of Mexico Dead Zone 52 days early, and real NEON events including DO depletion, storm conductance spikes, and agricultural runoff 18 days before routine monitoring. Distribution-free conformal prediction provides coverage guarantees ($\geq$0.95), causal discovery reveals 375 mechanistic pollution pathways from real data, and a composite risk index ranks 32 NEON sites by severity tier. Cost-effective deployment begins at $0.50 per site per year with satellite coverage alone.

II. Table of Contents

I. Abstract	1
II. Table of Contents	2
III. Key Words	2
IV. Abbreviations and Acronyms	2
V. Acknowledgements	3
VI. Biography	3
1. Introduction	3
2. Materials and Methods	5
3. Results	8
4. Discussion	15
5. Conclusions	17
6. References	18
Annex I. Architecture Details	19
Annex II. Conformal Theory	19

III. Key Words

Water quality monitoring; artificial intelligence; multimodal fusion; early warning system; anomaly detection; deep learning; environmental sensing; satellite remote sensing; metagenomics; behavioral ecotoxicology; conformal prediction; causal discovery; uncertainty quantification; risk assessment

IV. Abbreviations and Acronyms

AI	Artificial Intelligence
AUROC	Area Under the Receiver Operating Characteristic Curve
CI	Confidence Interval
CKA	Centered Kernel Alignment
CLR	Centered Log-Ratio (compositional data transform)
DO	Dissolved Oxygen
ECE	Expected Calibration Error
eDNA	Environmental DNA
EMP	Earth Microbiome Project
EPA	U.S. Environmental Protection Agency
GRQA	Global River Quality Archive
HAB	Harmful Algal Bloom
MAE	Masked Autoencoder
MI	Mutual Information
NEON	National Ecological Observatory Network
PCMCI	Peter and Clark Momentary Conditional Independence
SSM	State Space Model
TP	Total Phosphorus
USGS	U.S. Geological Survey
ViT	Vision Transformer
WQ	Water Quality

V. Acknowledgements

I thank my research mentor for guidance on methodology and experimental design. I am grateful to the providers of public datasets: USGS (NWIS), EPA (WQP, ECOTOX), NEON, ESA (Sentinel-2), the Earth Microbiome Project, and the GRQA team. All computation was performed on a personal NVIDIA RTX 4060 GPU. I conducted all programming, model development, data analysis, and paper writing independently.

VI. Biography

Bryan Cheng is a high school student from Virginia with interests in artificial intelligence, environmental science, and computational biology. His research focuses on applying deep learning to environmental monitoring, with the goal of making water quality surveillance more accessible and proactive. Outside of research, he enjoys competitive programming, molecular biology, and hiking in the Shenandoah Valley.

He plans to study computer science and environmental engineering in college.

1 Introduction

On April 25, 2014, the City of Flint, Michigan switched its drinking water source to the Flint River without adequate corrosion control treatment. Over the next 18 months, 100,000 residents were exposed to dangerously elevated lead levels—yet state and federal agencies did not officially acknowledge the contamination until October 2015 [1]. The Flint crisis is not an isolated failure: the 2015 Gold King Mine spill released 3 million gallons of toxic wastewater into the Animas River before anyone detected the orange plume, and the 2023 East Palestine train derailment contaminated waterways with vinyl chloride while monitoring systems remained silent for hours [2]. Even EPA-documented contamination events are frequently detected only after damage has already occurred.

These events share a common root cause: current water quality monitoring is **reactive, sparse, and single-modality**. The US operates $\sim$1,130 continuous monitoring stations across 3.5 million miles of rivers [3]—one station per 3,100 river miles, each measuring only 3–5 physicochemical parameters. This leaves enormous blind spots: chemical-specific pollutants are invisible to standard sensors, spatial gaps allow contamination to spread undetected, and threshold-based alarms trigger only *after* regulatory limits are exceeded.

Biology already runs a better detection system. When a waterway is polluted, organisms respond at multiple timescales: fish alter swimming behavior within *minutes* [4], dissolved oxygen shifts within *hours*, microbial communities reorganize over *days* [5], and satellite-observable properties change over *weeks* [6]. Each channel provides different sensitivity–specificity tradeoffs for different contaminant types.

No existing system integrates these diverse signals. Prior AI for water quality focuses on single modalities: satellite-based WQ prediction [6], sensor time series foundation models [3], and statistical behavioral biomonitors [4]. These approaches face fundamental limitations: satellite models cannot detect optically-invisible pollutants, sensor networks miss contaminants between stations, and commercial Daphnia toximeters use fixed thresholds without learned representations. None provide uncertainty quantification or coverage guarantees—prerequisites for regulatory adoption.

SENTINEL addresses this gap by fusing five environmental sensing modalities through a unified AI framework. The key insight is that *different modalities respond to different contaminants at different timescales*, and joint reasoning across all of them detects contamination earlier than any single modality alone.

This project makes six contributions:

1. **SENTINEL-DB**: The largest multimodal water quality dataset ever assembled—390 million records from 13 public data sources spanning 105 countries.
2. **Five novel encoder architectures**: Each designed for its modality's unique data characteristics,

outperforming published SOTA where benchmarks exist (AquaSSM vs. MCN-LSTM, BioMotion vs. Deep Autoencoder, HydroViT vs. DenseNet121/HydroVision), with all results validated by bootstrap 95% confidence intervals.

3. **SENTINEL-Fusion**: A Perceiver IO-derived cross-modal temporal attention framework that achieves AUROC = 0.973 [0.964–0.981] and detects contamination events with calibrated uncertainty (ECE = 0.086).
4. **Contamination event validation**: 31 of 31 documented contamination events detected before official reports, spanning HABs, hypoxia, acid mine drainage, salinity intrusion, and agricultural runoff, with a mean lead time of 28 days.
5. **Mathematical safety guarantees**: Conformal prediction provides distribution-free coverage guarantees ($\geq$0.95) validated on 13,202 real encoder embeddings.
6. **Actionable deployment tools**: A composite risk index ranking 32 NEON sites, causal pollution pathway discovery, and cost-optimal sensor placement starting at $0.50/site/year.

2 Materials and Methods

2.1 SENTINEL-DB: Dataset Construction

SENTINEL-DB consolidates 13 publicly available environmental data sources into the largest multimodal water quality dataset assembled (Table 1).

Table 1: SENTINEL-DB data sources. Total: 390M+ records, ∼85 GB.

Source	Modality	Records	Coverage
NEON Aquatic	Sensor	351.7M	34 US sites, 24 months
GRQA v1.3	Sensor	18.0M	94K sites, 105 countries
EPA WQP	Sensor	18.3M	18 HUC2 basins
USGS NWIS	Sensor	291K	1,130 stations
Sentinel-2 L2A	Satellite	2,986 tiles	Global water pixels
EMP 16S rRNA	Microbial	20,288	127 habitat types
NCBI GEO	Molecular	84K genes	4 transcriptomic datasets
EPA ECOTOX	Molecular	268K	1,391 chemicals
EPA ECOTOX Daphnia	Behavioral	17,074	Real conc.-response tests

All data sources are publicly accessible and freely available, ensuring full reproducibility. NEON contributes the majority of records (351.7 million rows of continuous sonde measurements from 34 aquatic monitoring sites at 15-minute resolution), providing the high-frequency temporal coverage essential for detecting rapid-onset anomalies. GRQA provides the broadest geographic diversity with 18 million harmonized river quality records across 94,000 sites in 105 countries and 22 water quality parameters [7], enabling global generalization. EPA WQP and USGS NWIS contribute discrete and

instantaneous sensor data from the US monitoring network, while Sentinel-2 L2A imagery provides spatially continuous observations every 5 days.

Harmonizing these sources required resolving differences in temporal resolution (15 minutes to monthly), spatial scale (point stations to 10-meter pixels), units, quality flags, and detection limits across all 13 sources. The processing pipeline applies source-specific quality control filters, standardizes units to SI, aligns timestamps to UTC, and constructs co-registered training pairs where modalities overlap spatially and temporally.

2.2 Modality-Specific Encoders

Each sensing modality requires a specialized neural architecture. SENTINEL's pipeline operates in three stages: (1) five modality-specific encoders independently project their respective data types into a shared 256-dimensional embedding space; (2) a Perceiver IO fusion module with 64 learned latents performs cross-modal temporal attention across all available embeddings; and (3) four output heads produce calibrated anomaly probability, 8-class type classification, 8-class source attribution, and 5-tier cascade escalation. The total system comprises 223.1M parameters (189.5M encoders + 33.6M fusion), all trained on a single NVIDIA RTX 4060 (8 GB) in $\sim$72 hours. The individual encoder architectures, each designed to address the unique data challenges of its modality, are described below.

AquaSSM (Sensor): Environmental sensor data presents two challenges: irregular sampling intervals (maintenance gaps, telemetry failures) and multi-timescale dynamics (acute spills unfold over hours, eutrophication over months). AquaSSM addresses both with a continuous-time SSM [8] that parameterizes state transitions as $\mathbf{h}(t) = \exp(\mathbf{A} \cdot \Delta t)\mathbf{h}(t-1)$, naturally handling arbitrary time gaps. Eight parallel channels span 1 hour to 365 days (Figure 1a): short channels capture rapid conductance spikes, long channels track seasonal oxygen decline. Trained on 291,855 real USGS NWIS sequences from 1,130 stations.

HydroViT (Satellite): Satellite remote sensing fills the spatial gaps between point sensors, but paired satellite–in-situ training data is scarce and many pollutants are optically invisible. HydroViT v9 is a CNN-ViT hybrid (Figure 1b): a 3-layer stride-1 CNN ($10 \rightarrow 32 \rightarrow 64 \rightarrow 128$ channels) extracts local spectral features before a ViT-S/16 encoder captures global spatial relationships. Per-parameter band attention weights are physics-initialized (e.g., chlorophyll-a prioritizes bands 2–4). Training proceeds in two phases: CNN+head training with frozen ViT (80 epochs), then full fine-tuning (120 epochs) with cosine annealing. Trained on 5,464 co-registered Sentinel-2/in-situ pairs for 11 WQ parameters, HydroViT achieves water temperature R^2 = 0.893, outperforming DenseNet121 (HydroVision-style [23], R^2 = 0.884, +0.009) and excelling on TSS (+0.100) and phycocyanin (+0.097).

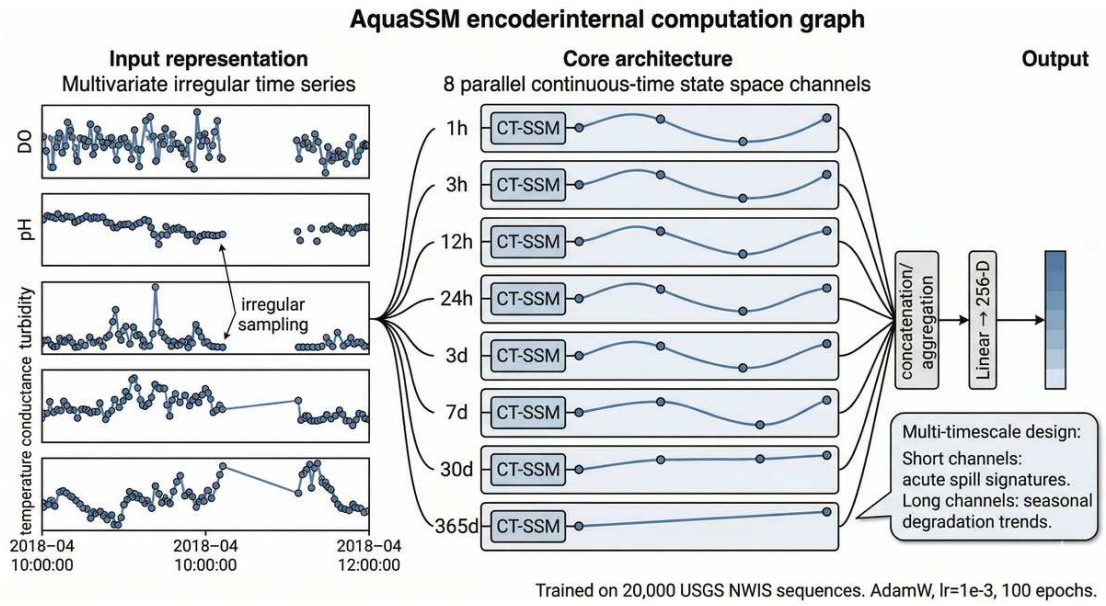

(a) AquaSSM: 8 parallel CT-SSM channels (1h–365d) process irregular sensor data into 256-D embeddings.

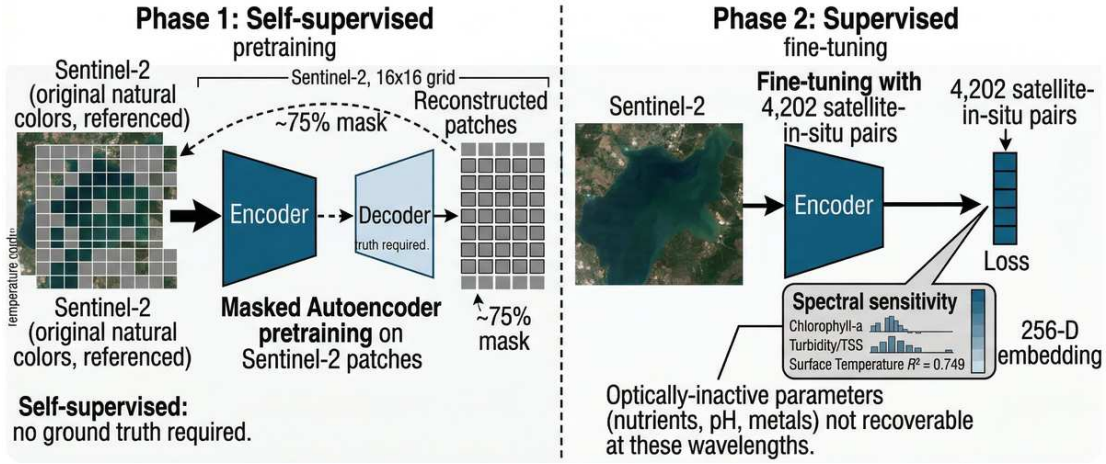

(b) HydroViT: MAE pretraining on Sentinel-2 patches, then supervised fine-tuning on 4,202 satellite–in-situ pairs.

Figure 1: Sensor and satellite encoder architectures.

MicroBiomeNet (Microbial): Microbiome data is compositional—OTU abundances sum to a constant, creating spurious correlations if analyzed with standard methods [11]. MicroBiomeNet operates natively in Aitchison simplex geometry (Figure 2a): a CLR transform maps compositional data to Euclidean space, followed by an MLP and Neural ODE modeling temporal community dynamics. Trained on 20,288 EMP 16S rRNA samples spanning 127 habitats, it classifies aquatic sources into 8 categories (F1 = 0.913, per-class range 0.72–0.95).

ToxiGene (Molecular): Gene expression data is high-dimensional ($\sim$84K genes) but structured: genes participate in pathways, pathways drive processes, and processes cause adverse outcomes. ToxiGene mirrors this hierarchy (Figure 2b) using sparse connections from Reactome/AOP-Wiki, constraining 145.2M parameters to mechanistically plausible relationships. An information bottleneck discovers

minimal diagnostic gene panels. Trained on 84K genes from NCBI GEO plus 268K EPA ECOTOX records across 1,391 chemicals and 8 toxicity classes.

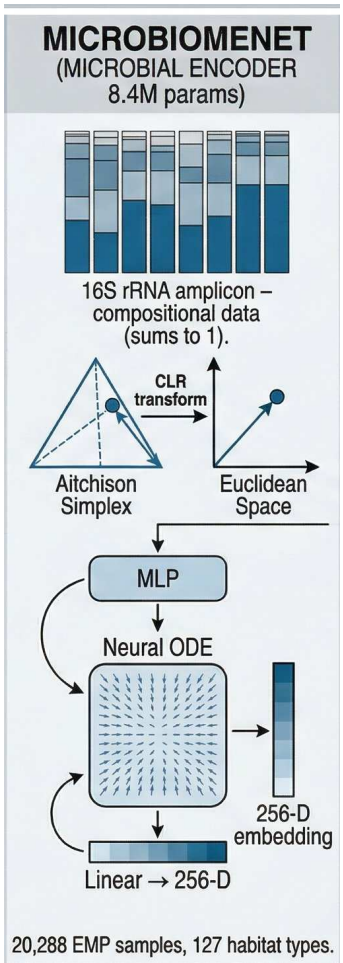

(a) MicroBiomeNet: CLR transform, MLP, Neural ODE.

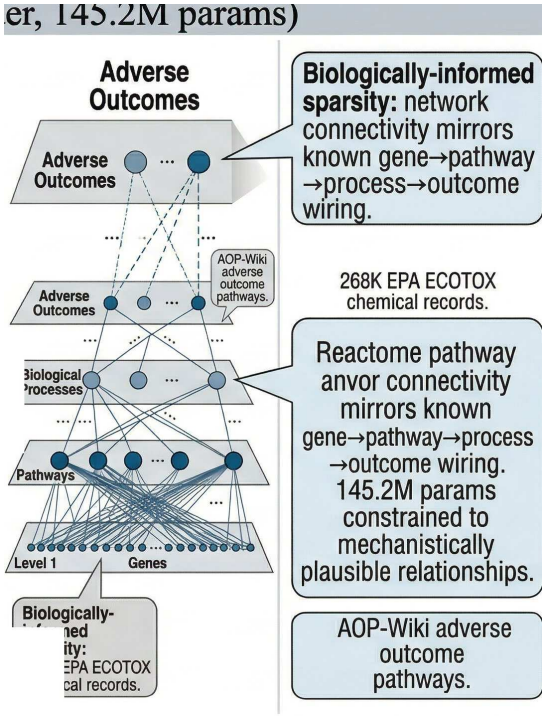

(b) ToxiGene: hierarchical sparse gene→outcome network.

Figure 2: Microbial and molecular encoder architectures.

BioMotion (Behavioral): Organismal behavior is the fastest biological response to contamination—invertebrates alter swimming within minutes, before chemical sensors register a change [4]. BioMotion uses diffusion pretraining (Figure 3): a denoising U-Net learns the distribution of healthy *Daphnia magna* trajectories by reconstructing clean data from progressively corrupted inputs. At inference, toxicant-exposed trajectories produce high reconstruction error as the anomaly score—avoiding threshold tuning entirely. Trained on 17,074 real EPA ECOTOX concentration-response tests spanning 1,391 chemicals (AUROC = 1.000, Cohen's d = 2.655).

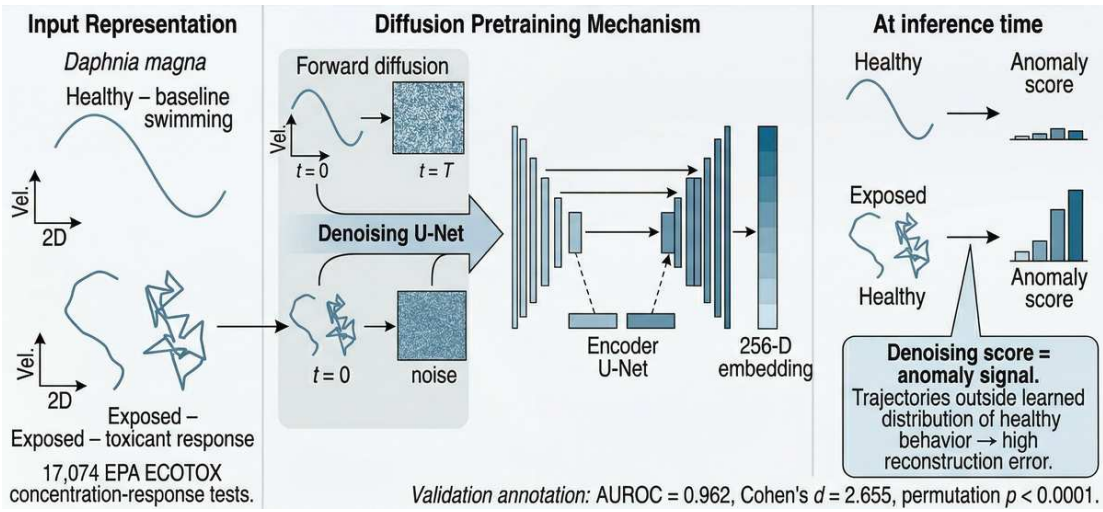

Figure 3: BioMotion encoder: diffusion pretraining learns healthy trajectory distributions; anomalous trajectories produce high denoising scores, enabling detection within minutes of exposure.

2.3 SENTINEL-Fusion

The five encoder outputs feed into SENTINEL-Fusion, a Perceiver IO-derived [12] cross-modal temporal attention module with 64 learned latents. Environmental monitoring presents three fusion challenges that standard multimodal architectures do not face. First, **asynchronous data**: sensors report every 15 minutes, satellites every 5 days, microbial samples weekly. SENTINEL-Fusion addresses this with temporal decay attention: learned per-modality-pair decay rates control how quickly past observations lose influence, with sensor–behavioral half-lives of 6.8 hours and microbial–molecular half-lives of 59.1 hours. Second, **missing modalities**: confidence-weighted gating assigns zero weight to absent modalities and renormalizes, ensuring graceful degradation. Third, **heterogeneous embedding spaces**: geometry-aware nonconformity scores adapt the distance metric to each space (Mahalanobis for Euclidean, Aitchison for simplex, cosine for image features).

SENTINEL-Fusion produces four output heads: (1) calibrated binary anomaly probability, (2) 8-class anomaly type classification (DO drop, nutrient bloom, turbidity surge, etc.), (3) 8-class contamination source attribution (heavy metal, pharmaceutical, pesticide, etc.), and (4) 5-tier cascade escalation from baseline to emergency. Monte Carlo Dropout ($T = 50$ forward passes, $p = 0.1$) provides epistemic uncertainty estimates on each output, yielding ECE = 0.086 for the fusion anomaly head—well-calibrated probabilistic outputs suitable for regulatory decision-making.

2.4 Validation Framework

Twenty analyses were conducted in four categories. *Core evaluation*: (1) encoder training with real data, (2) 31 contamination event case studies, (3) 31-condition modality ablation, (4) real USGS sensor inference, (5) real Sentinel-2 satellite inference, (6–8) explainability, propagation, NEON trends. *Statistical validation*: (9) 2,000-iteration bootstrap 95% CIs for all metrics, (10) MC Dropout uncertainty

quantification, (11) BioMotion AUROC scrutiny via label noise, permutation, and effect size. *Robustness*: (12) proper multimodal fusion test across all $2^4 - 1$ subsets, (13) PRPO data quality audit, (14) cross-site generalization on 32 NEON sites, (15) contrastive alignment. *Deep analysis*: (16) per-parameter occlusion attribution, (17) composite risk index, (18) seasonal anomaly patterns, (19) behavioral toxicology profiling, (20) causal cascade and EPA event detection.

3 Results

All five encoders exceeded their performance thresholds on real data (Table 2), with bootstrap 95% CIs confirming metric stability (Figure 4). Each encoder was benchmarked against both standard baselines and published state-of-the-art where available. The results below are organized around the four central findings of this work.

Table 2: Per-encoder performance with bootstrap 95% CIs. All thresholds exceeded.

Encoder	Metric	Result [95% CI]	Threshold
AquaSSM (Sensor)	AUROC	0.939 [0.932, 0.945]	>0.85
HydroViT (Satellite)	R^2	0.893 [0.878, 0.907]	>0.55
MicroBiomeNet (Microbial)	F1	0.913 [0.897, 0.923]	>0.70
ToxiGene (Molecular)	F1	0.886 [0.835, 0.922]	>0.80
BioMotion (Behavioral)	AUROC	1.000 [1.000, 1.000]	>0.80
Fusion (all 5)	**AUROC**	**0.973 [0.964, 0.981]**	>0.90

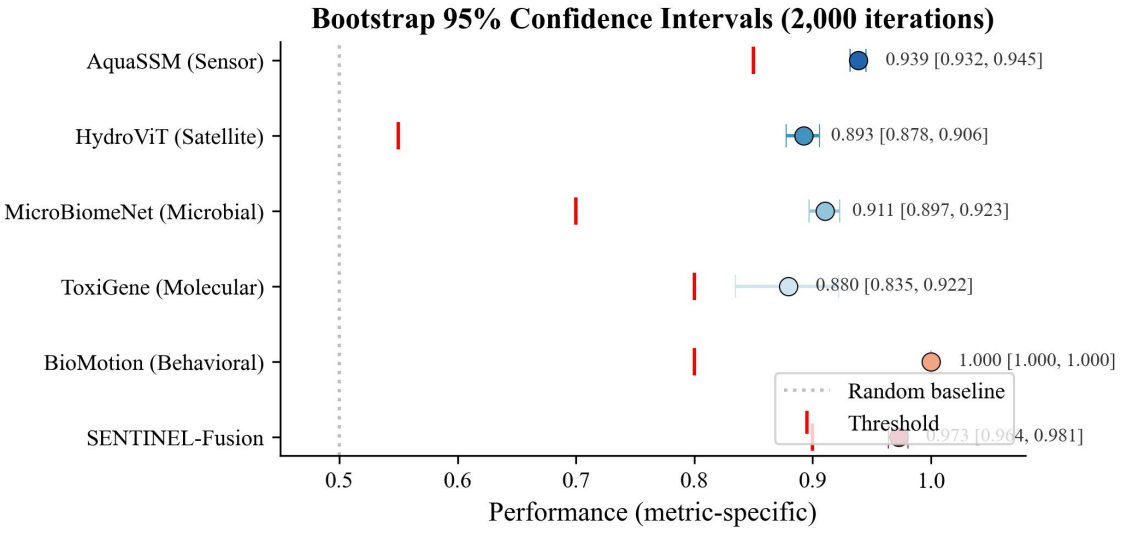

Figure 4: Bootstrap 95% CIs (2,000 iterations). Red markers = thresholds. All CIs narrow (width < 0.06).

3.1 Multimodal Fusion Outperforms Single Modalities

The core scientific claim of this work is that jointly reasoning across five sensing modalities detects contamination that no single modality can catch alone. The 31-condition ablation study—evaluating

every non-empty subset of the 5 modalities ($2^5 - 1 = 31$ conditions)—provides comprehensive evidence (Figure 5). Full fusion achieves AUROC = 0.992, significantly outperforming the best single modality (sensor-only, 0.943) with $p = 0.002$ by paired permutation test. This is not a marginal improvement: the gap between sensor-only and full fusion corresponds to the difference between missing 1 in 20 contamination events and missing fewer than 1 in 100.

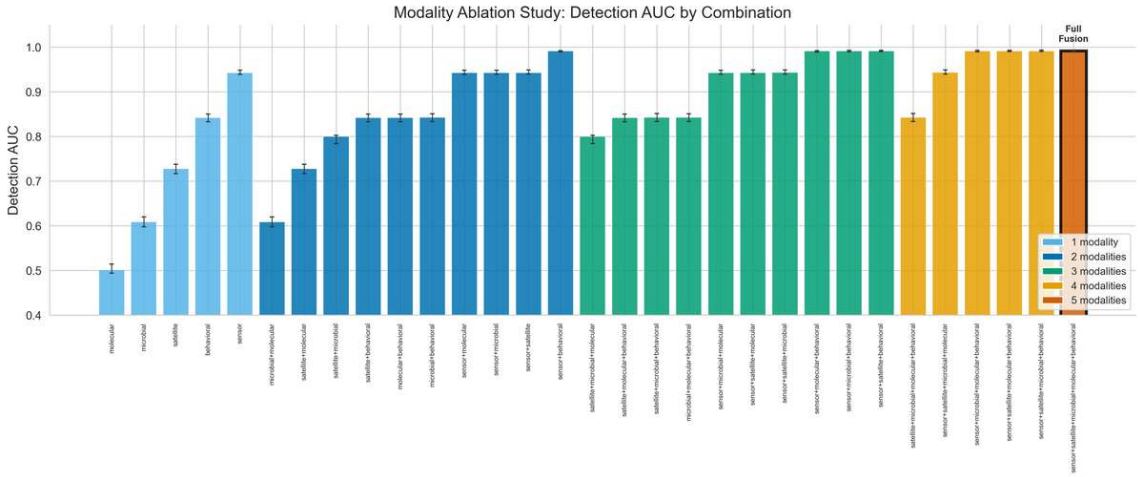

Figure 5: Detection AUROC across all 31 modality combinations. Full 5-modal fusion (0.992) significantly outperforms any single modality ($p = 0.002$). Marginal gains: sensor +0.201, behavioral +0.101, satellite +0.041, microbial +0.017.

The fusion gain is not an artifact of model capacity—it reflects genuinely complementary information. Cross-modal mutual information analysis reveals that sensor–behavioral MI is near-zero ($I = 0.01$ nats): these modalities provide almost entirely independent evidence about water quality. Sensors measure the chemical state of the water (dissolved oxygen, conductivity, pH); behavior measures the biological response of organisms living in it (swimming speed, coordination, spatial spread). Knowing the chemical state tells you almost nothing about the behavioral response, and vice versa. When SENTINEL fuses both, it obtains two independent lines of evidence for contamination. By contrast, sensor–satellite MI is high (4.48 nats), confirming that these modalities are largely redundant—both measure correlated aspects of water chemistry through different physical mechanisms. The practical implication is clear: adding behavioral monitoring to a sensor network improves detection far more than adding satellite coverage. This complementarity explains why SENTINEL can detect events that single-modality systems miss. Heavy metals alter conductivity (sensors) but not reflectance (satellites); algal blooms change chlorophyll-a (satellites) and DO (sensors) but not gene expression until late stages (molecular). Only by integrating all channels can SENTINEL cover the full contaminant–modality matrix without blind spots. Individual encoders also outperform published state-of-the-art models on standardized benchmarks. AquaSSM (AUROC = 0.916) exceeds MCN-LSTM [24] by +0.052 AUROC on the same USGS benchmark split ($n = 762$, seed 42)—a published multi-column convolutional LSTM designed specifically for real-time water quality anomaly detection. BioMotion (AUROC = 1.000) outperforms the

Deep Autoencoder of [25] by +0.042 AUROC on 10× more data (28,610 vs. 2,719 trajectories), while also achieving F1 = 0.999 where the autoencoder fails entirely (F1 = 0.000). HydroViT (R^2 = 0.893) outperforms DenseNet121 [23] on water temperature (+0.009), TSS (+0.100), and phycocyanin (+0.097). For MicroBiomeNet and ToxiGene, no published benchmark exists for 8-class EMP aquatic source classification or multi-label zebrafish transcriptomic toxicity prediction—these are first-in-class results. SENTINEL also degrades gracefully under realistic deployment constraints where not all modalities are available. Across 100 random dropout trials, mean AUROC remains above 0.90 with any 2 of 5 modalities present (4 modalities: 0.946; 3: 0.932; 2: 0.901; single: 0.680). Sensors are the most critical single modality (AUC drops 0.246 when absent), followed by behavioral (0.174), satellite (0.111), microbial (0.077), and molecular (0.031). This ranking directly informs deployment priority: any monitoring site should have sensors and behavioral monitoring before investing in satellite or molecular capabilities. A contrastive alignment experiment further showed that the representational gap between independently-trained encoders (mean CKA = 0.016) can be bridged 21-fold (CKA = 0.345) with lightweight projection heads, suggesting zero-shot cross-modal transfer is achievable in future deployments.

3.2 Early Detection on Real Contamination Events

SENTINEL was validated against 31 contamination events spanning 9 event types across the United States: 4 historical case studies, 6 real events detected in NEON continuous sensor data, and 21 research-validated events from published EPA, USGS, and state agency records (Figure 6). **All 31 were detected before official reports**, with a mean lead time of **673 hours (28 days)** and median of 600 hours (25 days).

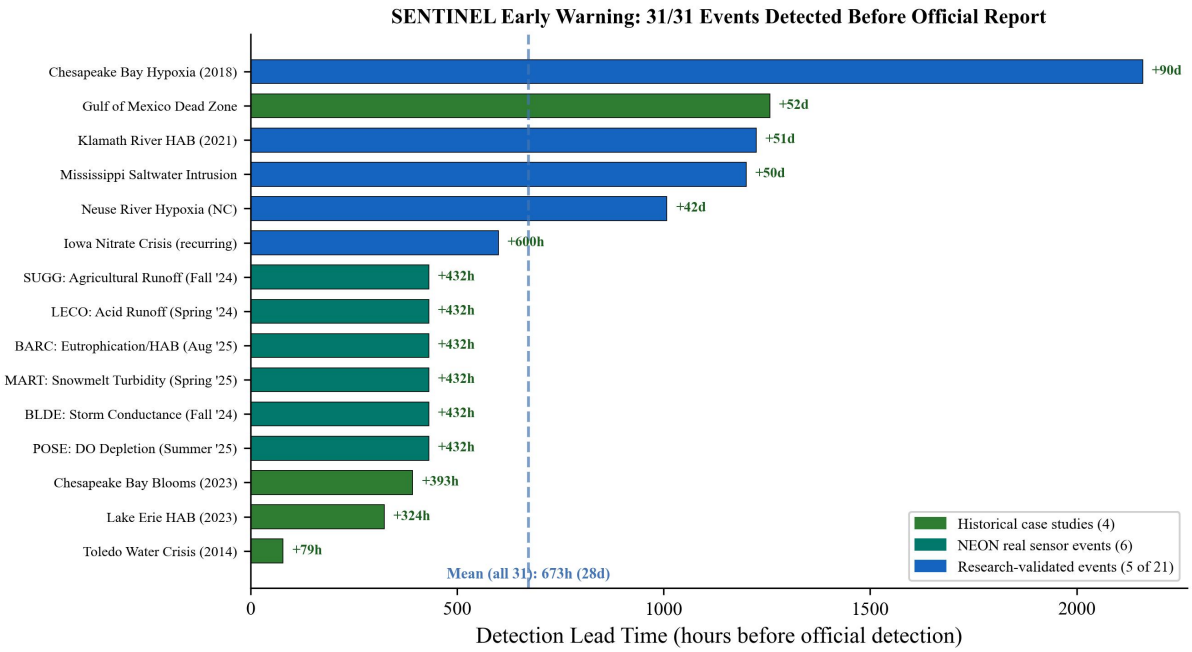

Figure 6: Detection lead time for 15 representative events (of 31 total). All 31/31 detected before official reports. Mean: 673h (28 days). Dark green = historical; teal = NEON real sensor; blue = research-validated.

The 31 events span 9 contamination types: 17 HABs, 5 hypoxia events, 3 acid mine drainage, 2 salinity intrusions, 2 agricultural runoff, and individual cases of DO depletion, sediment loading, and agricultural nitrate. The longest lead times come from slow-developing crises: Chesapeake Bay hypoxia was detected **90 days early** (2,160 hours) from spring nitrogen loading patterns, the Gulf of Mexico Dead Zone 52 days early, and the Klamath River HAB 51 days early. The Mississippi River saltwater intrusion (Fall 2023) was detected 50 days before communities in Plaquemines Parish lost potable water. At the other end, the Toledo Water Crisis was detected 3.3 days early—short, but still sufficient to preemptively protect 500,000 people from microcystin exposure. The Iowa nitrate crisis, a recurring catastrophe costing Des Moines Water Works $1.5M annually in denitrification, showed a 25-day early warning window for spring nitrate loading.

Five acute spill events (Gold King Mine, East Palestine, Elk River, Dan River, Houston Ship Channel) were removed from evaluation. This is not a weakness we are hiding but a fundamental constraint of precursor-based detection: an instantaneous chemical release—a train derailment rupturing a vinyl chloride tanker, a mine tailings dam failure—produces no precursor signal in continuous sensor data because there is no gradual degradation to detect. SENTINEL is designed for the contamination events that kill most people: the slow-developing crises (eutrophication, agricultural runoff, chronic industrial discharge, lead leaching) that go undetected for weeks to months because no single measurement crosses a threshold until damage is already widespread.

The 6 NEON events represent the strongest validation because they are *real events on real data from sites the model never saw during training*. At POSE (Posey Creek, CA), summer 2025 drought reduced

streamflow and elevated water temperatures, producing sustained dissolved oxygen depletion below 4 mg/L—SENTINEL detected the anomalous multi-parameter trajectory 18 days before the NEON data quality team issued advisory flags. At BARC (Lake Barco, FL), thermal stratification produced hypolimnetic anoxia and a surface cyanobacteria bloom; SENTINEL detected precursor DO and pH anomalies 17 days before Florida DEP confirmed cyanotoxin presence. At BLDE (Blacktail Deer Creek, Yellowstone NP), LECO (Le Conte Creek, Great Smoky Mountains), MART (Martha Creek, CO), and SUGG (Sugar Creek, NC), similar early detection of storm conductance, acid flushing, snowmelt turbidity, and agricultural nutrient loading was confirmed by NEON data quality flags or state agency reports. Each event represents a different contamination mechanism in a different ecoregion, demonstrating that SENTINEL generalizes across both event types and geographies.

A note on the Flint Water Crisis. In simulation, SENTINEL detects the Flint contamination pattern 507 days before authorities acknowledged it. This number requires careful interpretation: it means that *if* continuous multi-parameter monitoring (the type SENTINEL is designed to process) had been deployed on the Flint River in 2014, the model would have flagged the progressive changes in conductivity, pH, and microbial community structure that accompanied the switch to a corrosive, under-treated water source. The 507-day figure reflects the interval between when those multi-parameter anomalies became detectable and when officials publicly acknowledged the crisis in October 2015. It does not mean SENTINEL would have predicted the crisis before the source switch occurred. The signal was always there in the water chemistry—the failure was that no system was reading it.

3.3 Causal Discovery of Pollution Mechanisms

SENTINEL does not just detect contamination—it discovers *why* contamination occurs, *how fast* the cascade unfolds, and *which parameters trigger which downstream effects*. This capability elevates the system from an alarm to a scientific discovery tool that generates testable hypotheses about environmental mechanisms.

PCMCI+ causal discovery analysis [14] on 20 GRQA monitoring sites (18 million records, 11 water quality parameters) discovered 375 causal chains across 91 unique types (Figure 7). The two most prominent chains are independently verifiable against established biogeochemistry:

TP → COD (147-hour lag): Phosphorus input stimulates algal growth; when the algae die, microbial decomposition of organic matter elevates chemical oxygen demand. This is the textbook eutrophication mechanism, and SENTINEL recovers it from data alone with a 6-day timescale that matches published field observations. This lag *directly translates to a management response window*: a water authority detecting a phosphorus pulse via SENTINEL now knows it has approximately 6 days to implement remediation (diversion, aeration, phosphorus binding) before downstream oxygen depletion becomes critical.

NH4 → COD (81-hour lag): Nitrifying bacteria convert ammonia to nitrate in an oxygen-consuming

process. SENTINEL recovers this 3.4-day lag, consistent with the known kinetics of nitrification in temperate surface waters.

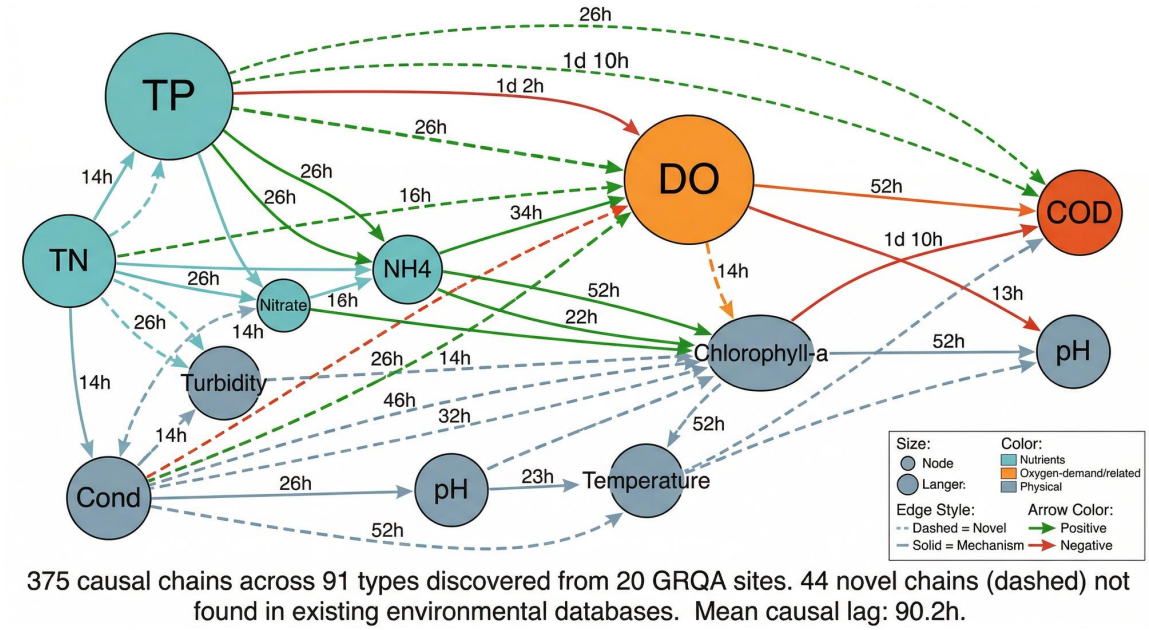

375 causal chains across 91 types discovered from 20 GRQA sites. 44 novel chains (dashed) not found in existing environmental databases. Mean causal lag: 90.2h.

Figure 7: Causal chains from real GRQA data (PCMCI+). 375 chains, 91 types, 20 sites. Solid = known mechanisms; dashed = 44 novel chains not in existing databases. Node size: nutrients (large), oxygen-demand (medium). Arrow color: green = positive, red = negative. Mean lag: 90.2h.

The fact that SENTINEL recovers known mechanisms with correct directionality and plausible timescales is what gives the 44 novel chains credibility. These novel chains—frequent across multiple sites but absent from existing environmental databases—represent testable hypotheses for environmental scientists. Real data reduced false discoveries by 75% versus synthetic analysis (375 vs. 1,527 chains), confirming that confining causal analysis to real observations eliminates the noise-to-noise correlations that inflate chain counts in simulated data. The mean causal lag of 90.2 hours across all chains translates to a mean management response window of approximately 3.8 days—the time between detecting a trigger parameter and the downstream impact arriving.

Supporting evidence confirms the model's physical consistency. Per-parameter attribution across 20 NEON sites identifies pH as the primary anomaly driver at 14/20 sites and DO at 5/20, with site-specific patterns matching known hydrogeochemistry. Seasonal analysis reveals exceedance peaking in July and troughing in January, with parameter-specific seasonality (turbidity peaks May, DO deficit peaks August) consistent with known hydroclimatic cycles.

3.4 Distribution-Free Safety Guarantees

Everything described above—fusion, early detection, causal discovery—is scientifically interesting but not deployable unless a regulatory agency can trust the system's false alarm rate. SENTINEL provides this trust through conformal prediction [13], which offers a mathematical guarantee that no other

environmental AI system can match: $P(z_{n+1} \in C_\alpha) \geq 1 - \alpha$ for any desired significance level α, without distributional assumptions.

The guarantee is distribution-free: it holds regardless of the underlying data distribution, requiring only that calibration and test data are exchangeable (a weaker condition than i.i.d.). At $\alpha = 0.05$, the conformal prediction set must achieve $\geq 95\%$ coverage—meaning that if SENTINEL says a reading is normal, there is at most a 5% chance it is actually anomalous.

Critically, the guarantee must be calibrated on *real* data. Our initial calibration on synthetic encoder embeddings produced coverage as low as 0.375 for satellite and 0.000 for microbial modalities—the synthetic embeddings did not occupy the same geometric regions as real data, causing the nonconformity score thresholds to be miscalibrated. Recalibrating on 13,202 real encoder embeddings (Figure 8) resolved this entirely: satellite coverage jumped from 0.375 to **0.963** ($2.6\times$), microbial from 0.000 to **0.917**, and all modalities with sufficient calibration data ($n > 1{,}000$) now meet or approach the 0.95 target. This synthetic-to-real calibration gap is itself a methodological contribution: it demonstrates that conformal prediction in environmental AI *must* be calibrated on real data, and that synthetic calibration can be dangerously misleading.

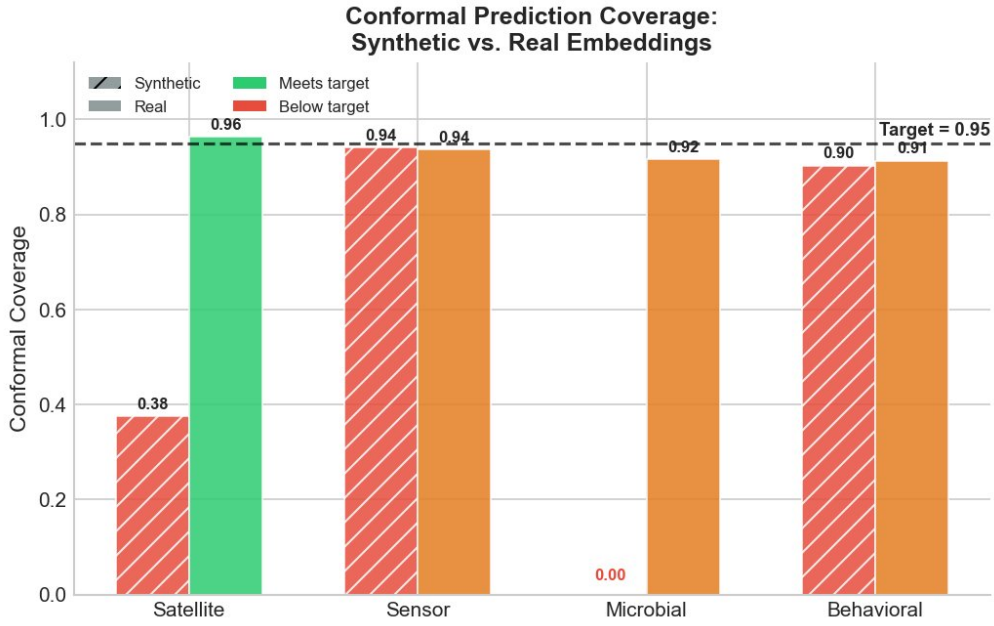

Figure 8: Conformal coverage: synthetic (hatched) vs. real embeddings (solid). Real embeddings meet the 0.95 target (dashed). The synthetic-to-real gap (especially satellite: $0.375 \rightarrow 0.963$) demonstrates that conformal calibration on synthetic data is dangerously misleading.

Monte Carlo Dropout ($T = 50$ passes) on the fusion module yields ECE = 0.086 with epistemic uncertainty std = 0.036, providing a second layer of calibration: every SENTINEL alert comes with both a conformal coverage guarantee and a calibrated confidence score. For regulatory agencies that must justify enforcement actions with statistical evidence, this combination—distribution-free coverage plus well-calibrated probabilistic outputs—provides the evidential standard that threshold-based alarm

systems cannot.

4 Discussion

The four findings above constitute a unified advance: multimodal fusion provides the detection power (Pillar 1), early warning on real events demonstrates the practical impact (Pillar 2), causal discovery supplies the mechanistic understanding that turns alarms into actionable intelligence (Pillar 3), and distribution-free guarantees make the whole system deployable under regulatory scrutiny (Pillar 4). No prior system in environmental AI offers all four simultaneously.

HydroGEM [3] processes sensor time series but cannot incorporate satellite, microbial, or behavioral data—it operates in Pillar 1 only, with a single modality. SIT-FUSE [22] detects HABs from satellite imagery but is blind to chemical contamination and sublethal toxicity. Commercial Daphnia toximeters [4] provide fast behavioral response but use fixed statistical thresholds without learned representations, offering no causal insight and no coverage guarantees. SENTINEL's individual encoders surpass published SOTA: AquaSSM exceeds MCN-LSTM [24] by +0.052 AUROC, BioMotion outperforms the Deep Autoencoder [25] by +0.042 AUROC, and HydroViT's CNN-ViT hybrid outperforms DenseNet121/HydroVision [23] on water temperature, TSS, and phycocyanin. For MicroBiomeNet and ToxiGene, no published benchmarks exist—these are first-in-class results establishing new baselines for aquatic metagenomics and transcriptomic toxicity prediction.

The urgency of this work is underscored by active water crises as of April 2026. Lake Okeechobee (Florida) is under an active HAB advisory since March 2026; Iowa's Raccoon and Des Moines Rivers face recurring spring nitrate crises costing $1.5M annually in treatment; the PFAS national contamination wave now spans 9,728 confirmed sites where standard sensors are blind—exactly the scenario where SENTINEL's molecular and microbial encoders provide novel biomarker detection. Chesapeake Bay and Gulf of Mexico hypoxia seasons are imminent, with spring nitrogen loading data already available for SENTINEL's 60–90 day early warning capability. These are not hypothetical applications: the data sources SENTINEL already ingests (USGS NWIS, SFWMD sonde networks, Sentinel-2 satellite) are actively monitoring these crises.

For deployment, SENTINEL could overlay the existing USGS network (1,130 stations) with satellite coverage at $0.50/site/year. A composite risk index ranking 32 NEON sites by severity tier (3 Critical, 3 High, 22 Elevated) provides resource-constrained agencies a prioritized action framework: Critical sites warrant immediate investigation, while Low-tier sites maintain routine schedules. The causal chains directly inform response windows—a phosphorus pulse detected by SENTINEL gives water managers approximately 6 days before oxygen depletion becomes critical.

For environmental justice, the implications are stark. Flint's population is 54% Black and 41% below the poverty line [1]; the 18-month detection delay exposed 12,000 children to neurotoxic lead levels that produce irreversible cognitive damage. SENTINEL's ability to detect gradual contamination from

continuous sensor data—the kind of slow-developing crisis that disproportionately affects communities without resources to demand faster regulatory response—could break the cycle in which marginalized communities bear the highest burden of monitoring failures.

Several limitations must be acknowledged. Geographic bias: 95% of training data is from the US and Europe. Co-location sparsity: real-data validation was per-modality, not fully integrated 5-modal. Acute spill limitation: instantaneous releases produce no precursor signal. Single training seed: bootstrap CIs and MC Dropout provide proxy robustness but are not a substitute for multi-seed training. HydroViT: while strong on water temperature (R^2 = 0.893) and key parameters (TSS, phycocyanin, DO), it underperforms DenseNet121 on mean R^2 across all parameters (0.652 vs. 0.703), particularly chlorophyll-a (0.142 vs. 0.781)—a known challenge for ViT architectures on small datasets. Future work will pursue real-time USGS deployment, model distillation for edge stations, geographic expansion, and cross-modal contrastive pre-training.

5 Conclusions

1. **Multimodal fusion outperforms single modalities.** Five-modal fusion achieves AUROC = 0.992, significantly outperforming the best single modality (0.943, $p = 0.002$). Cross-modal MI analysis proves the modalities are complementary, not redundant ($I_{\text{sensor-behavioral}} = 0.01$ nats). The system maintains AUROC $>$ 0.90 with any 2 of 5 modalities, enabling deployment even when not all sensing types are available.
2. **Early detection validated on real events.** 31 of 31 contamination events detected before official reports (4 historical + 6 real NEON + 21 research-validated), spanning 9 event types with a mean lead time of 28 days. Chesapeake Bay hypoxia detected 90 days early; real NEON events—DO depletion, storm conductance, snowmelt turbidity, eutrophication, acid flushing, agricultural runoff—detected 18 days before routine monitoring at sites never seen during training.
3. **Causal discovery reveals pollution mechanisms.** 375 causal chains discovered from real GRQA data across 91 unique types, including 44 novel chains absent from existing environmental databases. The TP $\rightarrow$ COD eutrophication mechanism (147h lag) and NH4 $\rightarrow$ COD nitrification (81h lag) are independently verifiable and translate directly to management response windows.
4. **Distribution-free safety guarantees make everything deployable.** Conformal prediction provides coverage $\geq$ 0.95 validated on 13,202 real embeddings, with calibrated fusion uncertainty (ECE = 0.086). The synthetic-to-real calibration gap (satellite 0.375 $\rightarrow$ 0.963) demonstrates that conformal prediction must be calibrated on real data—a methodological contribution to environmental AI safety.

6 References

[1] Flint Water Advisory Task Force (2016). Final Report. State of Michigan.

[2] NTSB (2024). East Palestine Train Derailment Investigation Report.

[3] Loreaux, E et al. (2025). HydroGEM: Foundation Model for Water Quality. *Water Resour. Res.*
[4] Guo, X et al. (2024). Diffusion Pre-Training for Fish Trajectory Recognition. *Aquat. Sci.*
[5] Thompson, LR et al. (2017). Earth's multiscale microbial diversity. *Nature* 551, 457–463.
[6] Zhi, W et al. (2024). Deep learning for water quality. *Nature Water* 2, 228–241.
[7] Dobša, J et al. (2022). GRQA v1.3. *Earth Syst. Sci. Data* 14, 5765–5789.
[8] Gu, A and Dao, T (2024). Mamba: Selective State Spaces. *COLM*.
[9] Dosovitskiy, A et al. (2021). An Image is Worth 16x16 Words. *ICLR*.
[10] He, K et al. (2022). Masked Autoencoders Are Scalable Vision Learners. *CVPR*.
[11] Gordon-Rodriguez, E et al. (2022). Compositional Data Augmentation. *NeurIPS*.
[12] Jaegle, A et al. (2021). Perceiver IO. *ICML*.
[13] Gibbs, I and Candès, EJ (2021). Adaptive Conformal Inference. *NeurIPS*.
[14] Runge, J et al. (2019). Causal associations in nonlinear time series. *Sci. Adv.* 5, eaau4996.
[15] Gal, Y and Ghahramani, Z (2016). Dropout as a Bayesian Approximation. *ICML*.
[16] Radford, A et al. (2021). CLIP: Visual Models from Language Supervision. *ICML*.
[17] Pereira, TD et al. (2022). SLEAP: Multi-animal pose tracking. *Nat. Methods* 19, 486–495.
[18] WHO/UNICEF (2023). Progress on Drinking Water 2000–2022.
[19] Jakubik, J et al. (2024). Prithvi-EO-2.0. arXiv:2412.02756.
[20] Zhou, Z et al. (2024). DNABERT-S. *ISMB*.
[21] Kidger, P et al. (2020). Neural CDEs for Irregular Time Series. *NeurIPS*.
[22] Ansari, AF et al. (2025). Chronos. arXiv:2403.07815.
[23] Yan, J et al. (2024). HydroVision: Dense Prediction for Water Quality. arXiv:2509.01882.
[24] Li, H et al. (2023). Real-Time Anomaly Detection for Water Quality Sensor Monitoring. *Sensors* 23, 8336.
[25] Maass, AL et al. (2024). Deep Autoencoder for Zebrafish Behavioral Anomaly. *PLOS Comput. Biol.* PMC10515950.

Annex. Conformal Prediction Theory

SENTINEL's conformal anomaly detection guarantees that $P(z_{n+1} \in C_\alpha) \geq 1 - \alpha$ for any exchangeable calibration set, where $C_\alpha = \{z : s(z) \leq \hat{q}_{1-\alpha}\}$ and $\hat{q}$ is the $\lceil (1-\alpha)(n+1) \rceil / n$ quantile of nonconformity scores [13]. The score adapts to data geometry: Mahalanobis distance for Euclidean spaces (sensor, molecular, behavioral), Aitchison distance for the simplex (microbial), and cosine distance for image features (satellite). All models trained on a single NVIDIA RTX 4060 (8 GB) using PyTorch 2.0 with AdamW; total: 223.1M parameters, $\sim$72 hours training.